REPUBLIC OF KENYA

2019 KENYA POPULATION AND HOUSING CENSUS

VOLUME I:
POPULATION BY COUNTY AND SUB-COUNTY



November 2019

KNBS
KENYA NATIONAL BUREAU OF STATISTICS
Keeping you informed

Counting Our People for Sustainable Development and Devolution of Services

2019 Population & Housing Census
Jitokeze Uhesabike!

REPUBLIC OF KENYA

2019 KENYA POPULATION AND HOUSING CENSUS

VOLUME I:

POPULATION BY COUNTY AND SUB-COUNTY

KNBS
KENYA NATIONAL BUREAU OF STATISTICS
Keeping you informed

Counting Our People for Sustainable Development and Devolution of Services

November 2019

Kenya Counties

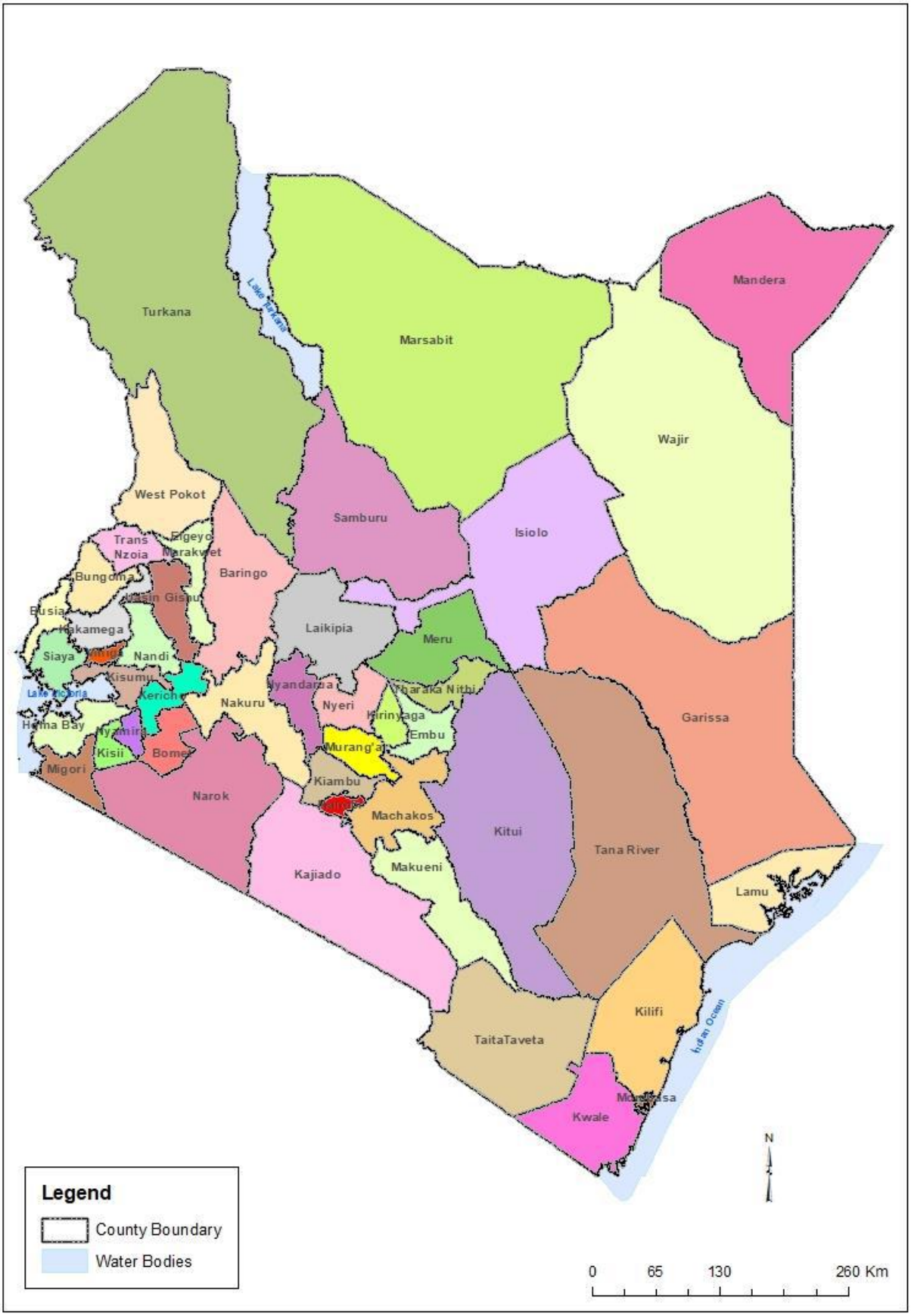

Kenya National Bureau of Statistics

P.O Box 30266-00100

Nairobi

Tel. +254-20-3317583/6/8

E-mail: directorgeneral@knbs.or.ke
or
info@knbs.or.ke

Website: http://www.knbs.or.ke

ISBN: 978-9966-102-09-6

All Rights Reserved Copyright©2019

Extracts may be published if the source is duly acknowledged

About KNBS

The Kenya National Bureau of Statistics (KNBS) is the principal agency of the Government for collecting, analysing and disseminating statistical data, and the custodian of official statistical information. The Bureau is also responsible for the co-ordination of the National Statistical System (NSS) in the country.

The functions of KNBS as defined in the Statistics (Amendment) Act, 2019 are:

- Planning, authorising, coordinating and supervising all official statistical programmes undertaken within the NSS;
- Establishing standards and ensuring the use of best practices and methods in the production and dissemination of statistical information across the NSS;
- Collecting, compiling, analysing, abstracting and disseminating statistical information;
- Conducting the Population and Housing Census every ten years, and such other censuses and surveys as the Board may determine;
- Maintaining a comprehensive and reliable national socio-economic database;
- Developing and maintaining sampling frames of the Bureau;
- Collaborating with and assisting the county governments or any institutions in the production of official statistics;
- Providing technical advice on statistics to other state entities;
- Promoting co-ordination among producers, users and suppliers of official statistics by forming appropriate sector committees; and
- Designating statistics produced by national statistical system as official statistics on being satisfied that the necessary criteria have been followed.

The KNBS has an elaborate infrastructure for data collection across the country. This includes, a County Statistical Office in each of the 47 counties, two sampling frames for implementation of censuses and surveys and various databases for socio-economic statistical information.

The Bureau collects various statistical information on monthly, quarterly, semi-annually and annual basis. Ad hoc surveys and studies are also carried out to gather information on specific indicators. Some of the statistical products of the Bureau include; Consumer Price Index (CPI), Leading Economic Indicators report, Quarterly Gross Domestic Product (GDP), Quarterly Producer Price Index (PPI), Quarterly Balance of Payment, Annual Economic Survey Report and Annual Statistical Abstract. The Bureau also provides statistical information to regional and international organisations. The KNBS maintains various platforms through which products and statistical information are disseminated.

The Bureau provides information for monitoring the country's development agenda as well as internationally agreed initiatives such as Sustainable Development Goals (SDGs).

In undertaking its mandate, the Bureau is guided by a Vision, Mission and Core Values.

Vision

"To be a global leader in the provision of quality statistical services"

Mission

"To provide, manage and promote quality statistical services through utilization of best practices for evidence-based decision making".

Core Values

- P-Professionalism: The Bureau will strictly abide by professional considerations, including scientific principles and ethics on methods, standards and procedures for provision of quality statistical services.

- I-Integrity: The Bureau will adhere to the principles of good governance to ensure transparency and accountability in undertaking its programmes and activities.

- C-Confidentiality: The Bureau will treat all information provided by stakeholders with strict confidentiality and use it exclusively for statistical purposes

- C-Customer Focus: The Bureau commits itself to align its programmes to the expectations of its stakeholders and attaining the highest standards in service delivery.

- I-Innovation: The Bureau will continuously embrace creativity and innovation for value-addition in its business processes.

- T-Teamwork: The Bureau will embrace teamwork in pursuing timely attainment of targeted results at all levels, through coordination and networking.

Foreword

The 2019 Kenya Population and Housing Census (KPHC) was conducted in August 2019 and followed the United Nations principles and recommendations for conducting the 2020 round of censuses. The Census collected information on the demographic and socio-economic characteristics of the population. In addition, information relating to housing amenities and emigrants was collected.

The theme for the census was *"Counting Our People for Sustainable Development and Devolution of Services"*. The theme resonates well with Kenya's development agenda -Vision 2030 and the Big Four, as well as other regional and International development initiatives including the Sustainable Development Goals (SDGs) and the African Union Agenda 2063. The information contained herein responds to the ever-increasing demand for official statistical information and provides benchmark information for other statistical development and infrastructure.

The 2019 Kenya Population and Housing Census Volume I report is the first in a series of census publications. It presents the distribution of the enumerated population by sex; number of households; and average household size, at national, county and sub-county levels. Also contained in the report is information on land area and population density, as per the administrative boundaries. Further work is ongoing to produce basic and in-depth analytical topical reports on the Census.

The Bureau is indebted to all the organs of government, the private sector and the public for the overwhelming support and participation in implementing the Census. I thank all the census personnel who played a key role in the overall success of the 2019 KPHC.

Stakeholders are encouraged to utilize the information in this report effectively.

Zachary Mwangi
Director General, KNBS

Table of Contents

Table of Contents i
List of Tables ii
List of Figures ii
Acronyms and Abbreviations iii
Chapter 1: Introduction 1
1.1 Background Information 1
1.2 Objectives of the 2019 Census 1
1.3 Theme of the 2019 Census 1
1.4 Implementation of the 2019 Census 1
1.4.1 Legal Framework 1
1.4.2 Census Management Structure 2
1.4.3 Use of Technology 2
1.4.4 Cartographic Mapping 2
1.4.5 Census Questionnaires 2
1.4.6 Pilot and Pre-tests 3
1.4.7 Publicity and Advocacy 3
1.4.8 Recruitment and Training 3
1.4.9 Enumeration 3
1.4.10 Data Transmission and Storage 3
1.5 Data Processing 4
1.6 Quality Assurance 4
Chapter 2: Summary Results 5
2.1 Highlights of the 2019 KPHC Results 5
2.2 Trend analysis 5
2.3 Distribution of Population by County 7
2.4 Distribution of Population by Sub-county 12

List of Tables

Table 2. 1: Census Indicators at a Glance, 2019 5
Table 2. 2: Distribution of Population by Sex and County 7
Table 2. 3: Distribution of Population, Number of Households and Average 9
Table 2. 4: Distribution of Population, Land Area and Population Density by County 10
Table 2. 5: Distribution of Population by Sex and Sub-County 12
Table 2. 6: Distribution of Population, Number of Households and Average Household Size by Sub-County 21
Table 2. 7: Distribution of Population by Land Area and Population Density by Sub-County 30

List of Figures

Figure 2. 1: Population Trend, 1969 to 2019 5
Figure 2. 2: Inter-Censal Population Growth Rates 6
Figure 2. 3: Distribution of Population by County 8
Figure 2. 4: Population Density by County 11

Acronyms and Abbreviations

CSPro	Census and Survey Processing system
EA	Enumeration Area
GPS	Geographical Positioning System
ICT	Information, Communication and Technology
KNBS	Kenya National Bureau of Statistics
KPHC	Kenya Population and Housing Census
NSS	National Statistical System
SDGs	Sustainable Development Goals
SPSS	Statistical Package for Social Sciences
UN	United Nations

Chapter 1: Introduction

1.1 Background Information

The first known population census in Kenya was conducted in 1897 and was basically a headcount. This was followed by the 1948 census that focused on non-natives. A complete census that enumerated 8.6 million persons was conducted in 1962 and was used to set up political and administrative structures. The first post-independence census was undertaken in 1969 and enumerated 10.9 million persons. Since then, the country has conducted decennial Population and Housing Censuses on a *de facto* basis with the midnight of 24th/25th August as the reference point. The censuses have been implemented in accordance with the UN Principles and Recommendations for conducting population and housing censuses.

1.2 Objectives of the 2019 Census

The main objective of the 2019 KPHC was to collect information on the size, composition, distribution and socio-economic characteristics of the population. This information will be used in planning, budgeting and programming for important services; future policy formulation, resource allocation; creation of administrative and political units; monitoring and evaluation of programmes and projects; research; development of a master household sampling frame; development of geo-spatial database; benchmark for agricultural census/surveys; business, industry and labour; and formulation of housing policy and programmes.

1.3 Theme of the 2019 Census

The theme of the census was *"Counting Our People for Sustainable Development and Devolution of Services"*. This is in response to the demand for statistical information for implementation of Kenya's development agenda such as the Big Four and Vision 2030 and other global initiatives including the Sustainable Development Goals (SDGs).

1.4 Implementation of the 2019 Census

1.4.1 Legal Framework

The 2019 Kenya Population and Housing Census was conducted under the provisions of the Constitution of Kenya, 2010 (Fourth Schedule Part 1 Item 11), the Statistics (Amendment) Act, 2019 and the Statistics (Census of Population) Order, 2018 - Legal

Notice No. 205 and the Cabinet Memorandum of May 2017 on the implementation of the 2019 population and housing census process.

1.4.2 Census Management Structure

Various committees were established and operationalized at both national and county levels to manage the census process. The National Census Steering Committee spearheaded the implementation process and provided policy direction. Coordination of the processes was undertaken by the National Census Coordination Committee while the Technical Working Committee was responsible for all the technical aspects of the census. County and Sub-County Census Committees were established to implement Census activities at respective levels.

1.4.3 Use of Technology

Kenya adopted the use of mobile technology to collect data during the 2019 census as recommended by the UN for the 2020 round of censuses. This was the first census in Kenya to use mobile technology in the capture and transmission of data for both cartographic mapping and enumeration. The mobile devices used for data collection were assembled by local universities.

1.4.4 Cartographic Mapping

The implementation of preparatory activities for the 2019 KPHC started in early 2016 with Cartographic Mapping exercise. The process involved delineation of the country into small geographical units known as Enumeration Areas (EAs). The EAs were used in determining the number of census personnel required as well as in ensuring total coverage during enumeration. The exercise was done using mobile devices where Geographical Positioning System (GPS) coordinates for homesteads, households, and other features of interest were picked and digitized using satellite imageries in rural areas and aerial photographs in urban areas. Digitized sub-location and EA maps were generated based on administrative boundaries and uploaded onto mobile devices for use during the enumeration exercise.

1.4.5 Census Questionnaires

The census questionnaires and manuals were developed through a consultative process spearheaded by the Technical Working Committee comprising of various stakeholders. A mobile data capture system was designed and adopted by changing the paper questionnaires to electronic questionnaires. These were uploaded onto the mobile devices for data collection and transmission. Five sets of questionnaires (one main and four short)

were developed to cover the conventional population and special population (travellers, outdoor sleepers, individuals in hotels and lodges and persons in institutions).

1.4.6 Pilot and Pre-tests

A Pilot Census was conducted in August 2018, a year prior to actual enumeration as per the UN recommendation, followed by two pre-tests undertaken in April and May 2019. This was meant to assess the preparedness for the actual enumeration in terms of logistics, map accuracy, content and flow of questions, data capture application and data transmission. Lessons learnt provided crucial input in the finalization of the tools and implementation strategies.

1.4.7 Publicity and Advocacy

Publicity and advocacy campaigns were done in all parts of the country through various channels, including; print media, national and local radio stations, mobile telephony, television stations and road shows. A call/contact centre was established with a toll-free line to respond to queries raised by the field teams and the public.

1.4.8 Recruitment and Training

Recruitment of census personnel who included 2,467 ICT supervisors, 22,268 content supervisors and 138,572 enumerators was undertaken by the County and Sub-County Census Committees through a competitive process. The training of these personnel was conducted in a cascaded manner from the training of trainers to the training of enumerators. The training for various cadres was conducted for seven days for each cadre.

1.4.9 Enumeration

The main census enumeration was preceded by EA boundary identification and pre-enumeration listing of households in each EA for two days on 22nd and 23rd August 2019. The pre-enumeration listing exercise helped in gauging the expected workload during the 7 days of enumeration. The actual enumeration took place from the night of 24th/25th August 2019 and ended on 31st August 2019. The mop-up exercise was conducted on 1st and 2nd September 2019. The special population was strictly enumerated on the night of 24th/25th August 2019.

1.4.10 Data Transmission and Storage

Data was collected by enumerators using mobile devices (tablets) and subsequently transmitted to a central server. The data was encrypted prior to transmission and was backed up in off-site locations.

1.5 Data Processing

The editing of the census data was guided by the United Nations Handbook on Population and Housing Census editing. The data was processed using CSPro, Stata and SPSS software. In addition, validation checks were done to ensure that all EAs, aligned to administrative boundaries, were accounted for in the dataset. Outputs were generated based on administrative areas.

1.6 Quality Assurance

Quality assurance was integrated in all phases of the census process. Comprehensive guidelines were developed and shared with census personnel. Field supervision followed a three-tier structure to ensure adequate support, real-time response to emerging issues, and feedback during data collection. In addition, enumeration reporting schedules and control forms were used to facilitate monitoring of activities. Field monitoring teams oversaw technical, logistical and administrative aspects of enumeration in each region. Further, independent observers, drawn from the international community and national statistics offices across Africa monitored and observed undertaking of the census.

Chapter 2: Summary Results

This chapter presents the distribution of the enumerated population by sex; number of households; and average household size, at national, county and sub-county levels. Information on land area and population density, as per the administrative boundaries is also provided.

2.1 Highlights of the 2019 KPHC Results

Table 2. 1: Census Indicators at a Glance, 2019

Indicator	2019
Population Size *('000s)*	47,564.3
Male *('000s)*.....	23,548.1
Female *('000s)*	24,014.7
Inter Sex *('000s)*	1.5
Sex Ratio *(No. of Males per 100 Females)*.....	98.1
Population Density *(No. per sq. Km)*.....	82
Number of Households *('000s)*.....	12,143.9
Average Household Size.....	3.9
Inter-Censal Growth Rate *(%)*	2.2

2.2 Trend analysis

Figure 2. 1: Population Trend, 1969 to 2019

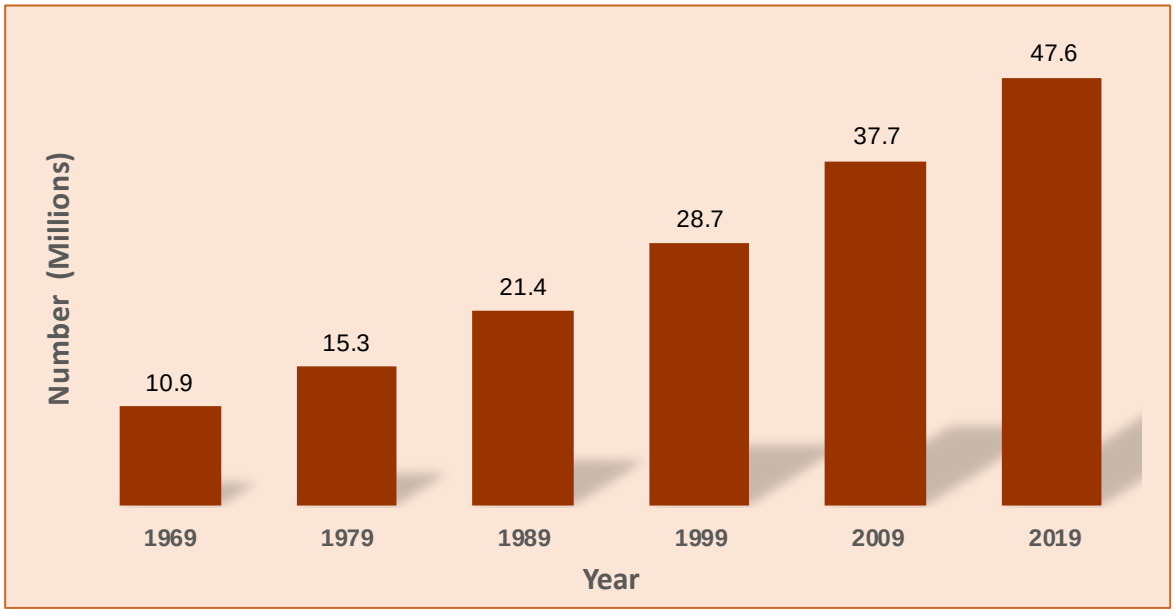

Figure 2. 2: Inter-Censal Population Growth Rates

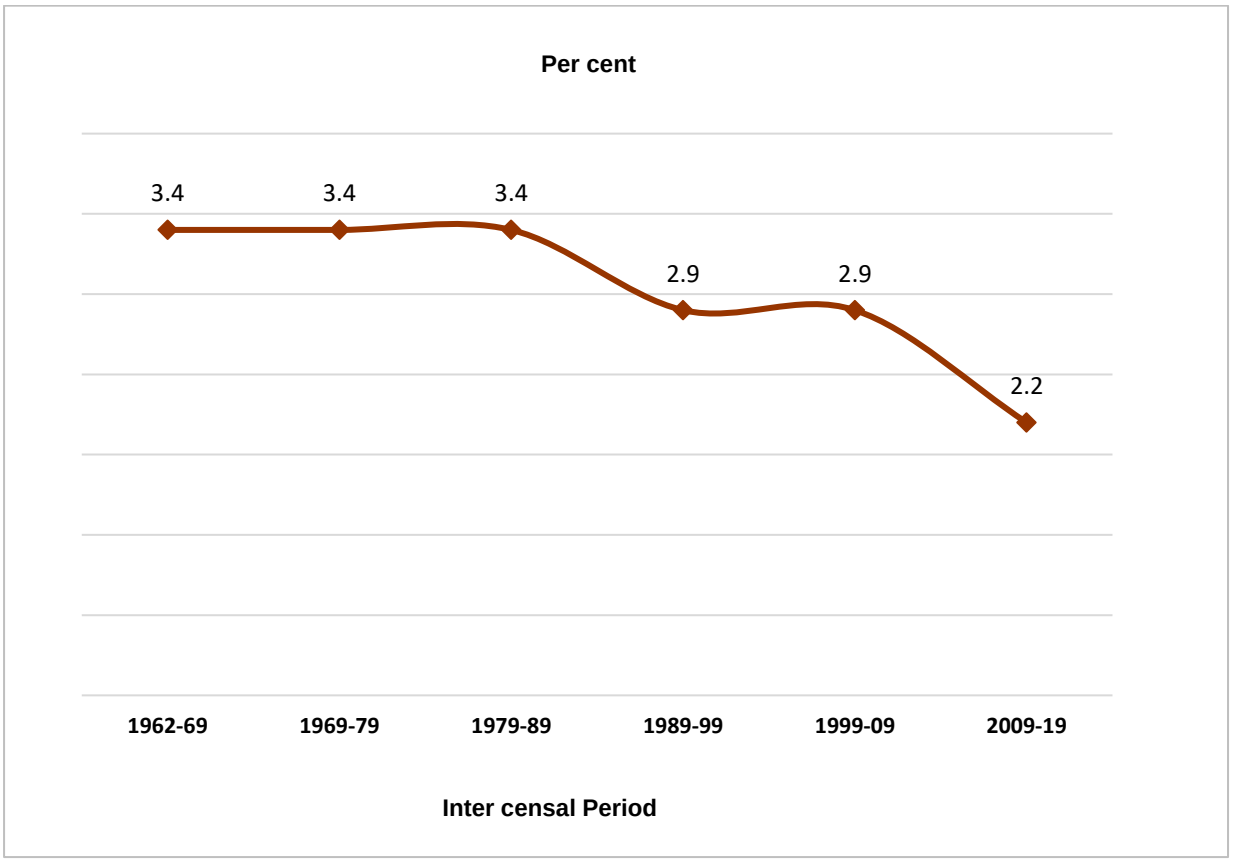

2.3 Distribution of Population by County

Table 2. 2: Distribution of Population by Sex and County

National/ County	Sex			Total
	Male	Female	Intersex	
Kenya	**23,548,056**	**24,014,716**	**1,524**	**47,564,296**
County				
Mombasa	610,257	598,046	30	1,208,333
Kwale	425,121	441,681	18	866,820
Kilifi	704,089	749,673	25	1,453,787
Tana River	158,550	157,391	2	315,943
Lamu	76,103	67,813	4	143,920
Taita/Taveta	173,337	167,327	7	340,671
Garissa	458,975	382,344	34	841,353
Wajir	415,374	365,840	49	781,263
Mandera	434,976	432,444	37	867,457
Marsabit	243,548	216,219	18	459,785
Isiolo	139,510	128,483	9	268,002
Meru	767,698	777,975	41	1,545,714
Tharaka-Nithi	193,764	199,406	7	393,177
Embu	304,208	304,367	24	608,599
Kitui	549,003	587,151	33	1,136,187
Machakos	710,707	711,191	34	1,421,932
Makueni	489,691	497,942	20	987,653
Nyandarua	315,022	323,247	20	638,289
Nyeri	374,288	384,845	31	759,164
Kirinyaga	302,011	308,369	31	610,411
Murang'a	523,940	532,669	31	1,056,640
Kiambu	1,187,146	1,230,454	135	2,417,735
Turkana	478,087	448,868	21	926,976
West Pokot	307,013	314,213	15	621,241
Samburu	156,774	153,546	7	310,327
Trans Nzoia	489,107	501,206	28	990,341
Uasin Gishu	580,269	582,889	28	1,163,186
Elgeyo/Marakwet	227,317	227,151	12	454,480
Nandi	441,259	444,430	22	885,711
Baringo	336,322	330,428	13	666,763
Laikipia	259,440	259,102	18	518,560
Nakuru	1,077,272	1,084,835	95	2,162,202
Narok	579,042	578,805	26	1,157,873
Kajiado	557,098	560,704	38	1,117,840
Kericho	450,741	451,008	28	901,777
Bomet	434,287	441,379	23	875,689
Kakamega	897,133	970,406	40	1,867,579
Vihiga	283,678	306,323	12	590,013
Bungoma	812,146	858,389	35	1,670,570
Busia	426,252	467,401	28	893,681
Siaya	471,669	521,496	18	993,183
Kisumu	560,942	594,609	23	1,155,574
Homa Bay	539,560	592,367	23	1,131,950
Migori	536,187	580,214	35	1,116,436
Kisii	605,784	661,038	38	1,266,860
Nyamira	290,907	314,656	13	605,576
Nairobi City	2,192,452	2,204,376	245	4,397,073

Figure 2. 3: Distribution of Population by County

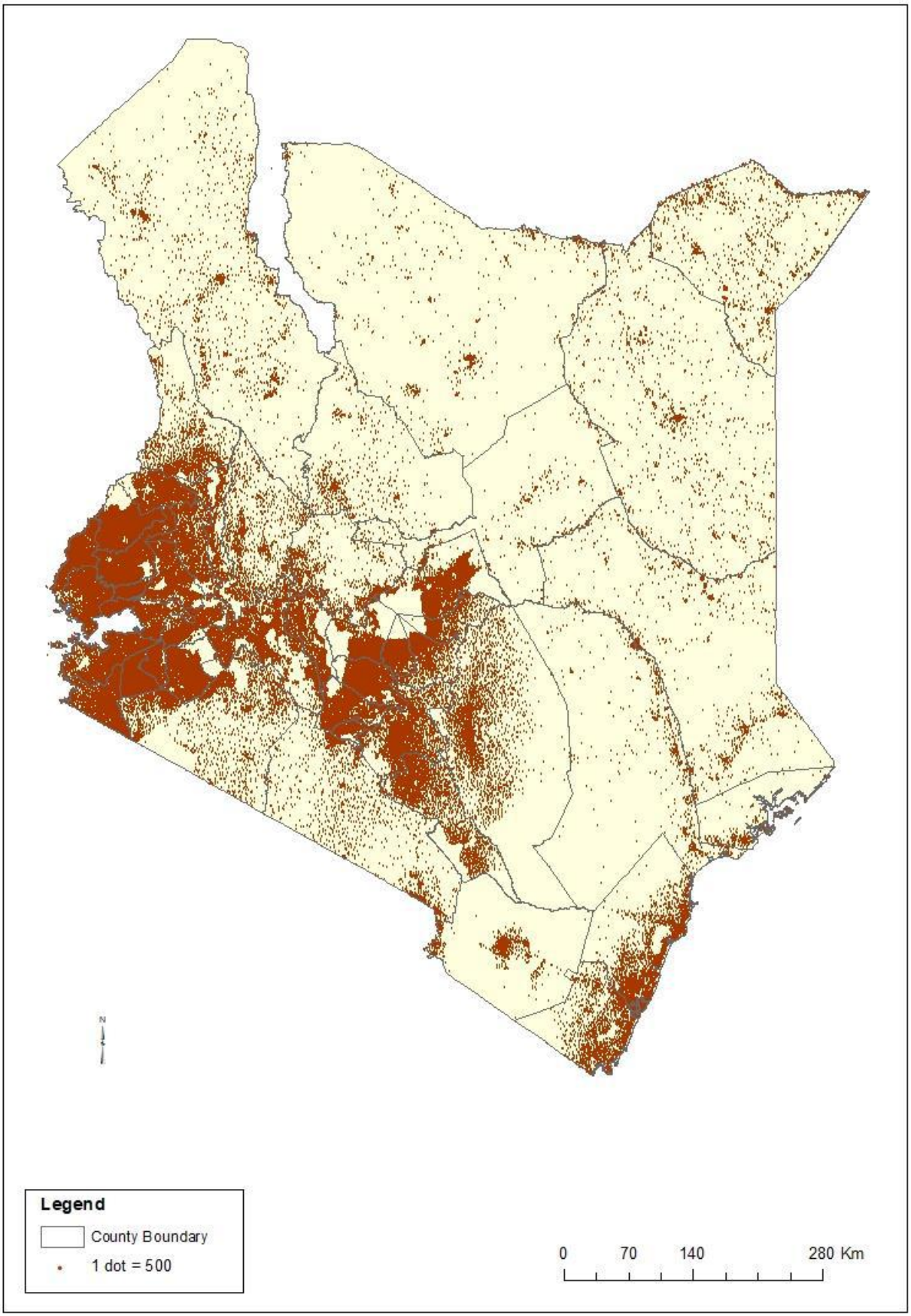

Table 2. 3: Distribution of Population, Number of Households and Average Household Size by County

National/ County	Population+	Number of Households	Average Household size
Kenya	**47,213,282**	**12,143,913**	**3.9**
County			
Mombasa	1,190,987	378,422	3.1
Kwale	858,748	173,176	5.0
Kilifi	1,440,958	298,472	4.8
Tana River	314,710	68,242	4.6
Lamu	141,909	37,963	3.7
Taita/Taveta	335,747	96,429	3.5
Garissa	835,482	141,394	5.9
Wajir	775,302	127,932	6.1
Mandera	862,079	125,763	6.9
Marsabit	447,150	77,495	5.8
Isiolo	267,997	58,072	4.6
Meru	1,535,635	426,360	3.6
Tharaka-Nithi	391,303	109,860	3.6
Embu	604,769	182,743	3.3
Kitui	1,130,134	262,942	4.3
Machakos	1,414,022	402,466	3.5
Makueni	977,015	244,669	4.0
Nyandarua	636,002	179,686	3.5
Nyeri	752,695	248,050	3.0
Kirinyaga	605,630	204,188	3.0
Murang'a	1,053,059	318,105	3.3
Kiambu	2,402,834	795,241	3.0
Turkana	922,210	164,519	5.6
West Pokot	618,867	116,182	5.3
Samburu	307,957	65,910	4.7
Trans Nzoia	985,333	223,808	4.4
Uasin Gishu	1,152,671	304,943	3.8
Elgeyo/Marakwet	453,403	99,861	4.5
Nandi	883,634	199,426	4.4
Baringo	662,760	142,518	4.7
Laikipia	513,879	149,271	3.4
Nakuru	2,142,667	616,046	3.5
Narok	1,149,379	241,125	4.8
Kajiado	1,107,296	316,179	3.5
Kericho	896,863	206,036	4.4
Bomet	873,023	187,641	4.7
Kakamega	1,861,332	433,207	4.3
Vihiga	587,189	143,365	4.1
Bungoma	1,663,898	358,796	4.6
Busia	886,856	198,152	4.5
Siaya	989,708	250,698	3.9
Kisumu	1,144,777	300,745	3.8
Homa Bay	1,125,823	262,036	4.3
Migori	1,108,950	240,168	4.6
Kisii	1,260,509	308,054	4.1
Nyamira	603,051	150,669	4.0
Nairobi City	4,337,080	1,506,888	2.9

+ Excludes the special population (travellers, outdoor sleepers, individuals in hotels and lodges and persons in institutions).

Table 2. 4: Distribution of Population, Land Area and Population Density by County

National/ County	Population	Land Area (Sq. Km)	Population Density (No. per Sq. Km)
Kenya	**47,564,296**	**580,876.3**	**82**
County			
Mombasa	1,208,333	219.9	5,495
Kwale	866,820	8,267.1	105
Kilifi	1,453,787	12,539.7	116
Tana River	315,943	37,950.5	8
Lamu	143,920	6,253.3	23
Taita/Taveta	340,671	17,152.0	20
Garissa	841,353	44,736.0	19
Wajir	781,263	56,773.1	14
Mandera	867,457	25,939.8	33
Marsabit	459,785	70,944.1	6
Isiolo	268,002	25,350.6	11
Meru	1,545,714	7,006.3	221
Tharaka-Nithi	393,177	2,564.4	153
Embu	608,599	2,820.7	216
Kitui	1,136,187	30,429.5	37
Machakos	1,421,932	6,042.7	235
Makueni	987,653	8,169.8	121
Nyandarua	638,289	3,285.7	194
Nyeri	759,164	3,325.0	228
Kirinyaga	610,411	1,478.3	413
Murang'a	1,056,640	2,524.2	419
Kiambu	2,417,735	2,538.6	952
Turkana	926,976	68,232.9	14
West Pokot	621,241	9,123.2	68
Samburu	310,327	21,065.1	15
Trans Nzoia	990,341	2,495.2	397
Uasin Gishu	1,163,186	3,392.2	343
Elgeyo/Marakwet	454,480	3,032.0	150
Nandi	885,711	2,855.8	310
Baringo	666,763	10,976.4	61
Laikipia	518,560	9,532.2	54
Nakuru	2,162,202	7,462.4	290
Narok	1,157,873	17,950.3	65
Kajiado	1,117,840	21,871.1	51
Kericho	901,777	2,436.1	370
Bomet	875,689	2,530.9	346
Kakamega	1,867,579	3,020.0	618
Vihiga	590,013	563.8	1,047
Bungoma	1,670,570	3,023.9	552
Busia	893,681	1,696.3	527
Siaya	993,183	2,529.8	393
Kisumu	1,155,574	2,085.4	554
Homa Bay	1,131,950	3,152.5	359
Migori	1,116,436	2,613.5	427
Kisii	1,266,860	1,323.0	958
Nyamira	605,576	897.3	675
Nairobi City	4,397,073	703.9	6,247

Figure 2. 4: Population Density by County

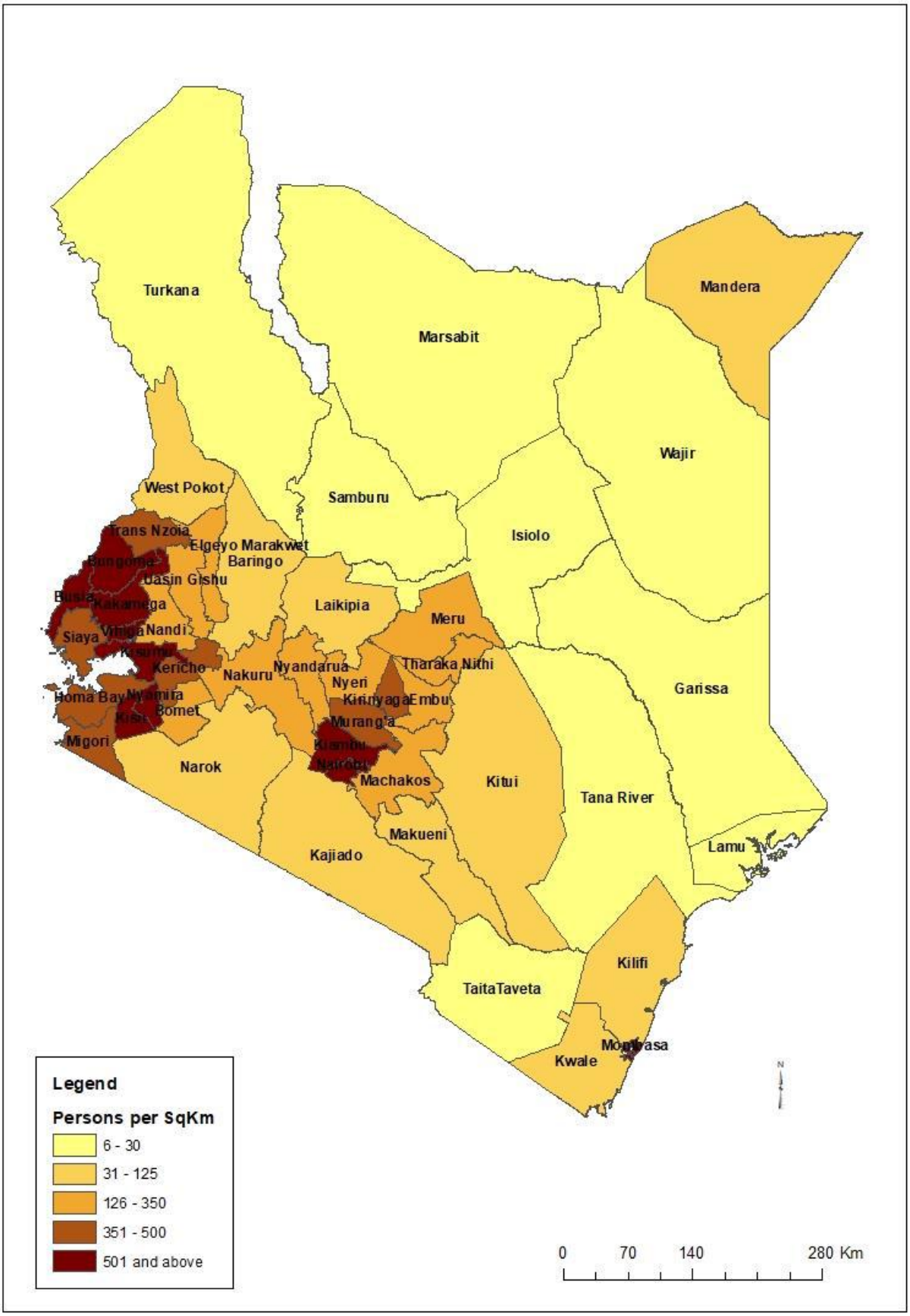

2.4 Distribution of Population by Sub-county

Table 2.5: Distribution of Population by Sex and Sub-County

National/ County	Sex			Total
	Male	Female	Intersex	
Kenya	**23,548,056**	**24,014,716**	**1,524**	**47,564,296**
County/ Sub County				
Mombasa	**610,257**	**598,046**	**30**	**1,208,333**
Changamwe	68,761	63,121	..	131,882
Jomvu	83,002	80,410	3	163,415
Kisauni	146,748	145,176	6	291,930
Likoni	126,962	123,392	4	250,358
Mvita	75,565	78,601	5	154,171
Nyali	109,219	107,346	12	216,577
Kwale	**425,121**	**441,681**	**18**	**866,820**
Kinango	45,413	48,806	1	94,220
Lungalunga	97,174	101,245	4	198,423
Matuga	95,831	98,419	2	194,252
Msambweni	89,206	88,480	4	177,690
Samburu-Kwale	97,497	104,731	7	202,235
Kilifi	**704,089**	**749,673**	**25**	**1,453,787**
Chonyi	29,527	32,807	1	62,335
Ganze	66,921	76,981	4	143,906
Kaloleni	92,614	101,063	5	193,682
Kauma	10,965	11,673	..	22,638
Kilifi North	86,986	91,836	2	178,824
Kilifi South	101,852	104,897	4	206,753
Magarini	93,302	98,308	..	191,610
Malindi	163,351	169,866	9	333,226
Rabai	58,571	62,242	..	120,813
Tana River	**158,550**	**157,391**	**2**	**315,943**
Tana North	55,716	54,924	..	110,640
Tana Delta	59,123	57,632	2	116,757
Tana River	43,711	44,835	..	88,546
Lamu	**76,103**	**67,813**	**4**	**143,920**
Lamu East	11,675	10,583	..	22,258
Lamu West	64,428	57,230	4	121,662
Taita/Taveta	**173,337**	**167,327**	**7**	**340,671**
Mwatate	41,426	40,231	2	81,659
Taita	28,386	27,573	..	55,959
Taveta	47,410	43,812	..	91,222
Voi	56,115	55,711	5	111,831
Garissa	**458,975**	**382,344**	**34**	**841,353**
Balambala	20,277	11,979	1	32,257
Dadaab	99,059	86,185	8	185,252
Fafi	72,617	61,413	10	134,040
Garissa	83,460	80,449	5	163,914
Hulugho	78,081	55,898	5	133,984
Ijara	80,458	61,129	4	141,591
Lagdera	25,023	25,291	1	50,315

Table 2.5: Distribution of Population by Sex and Sub-County, Cont'd

National/ County	Sex			Total
	Male	Female	Intersex	
Wajir	**415,374**	**365,840**	**49**	**781,263**
Buna	26,796	23,088	2	49,886
Eldas	44,743	43,759	7	88,509
Habaswein	94,613	79,505	16	174,134
Tarbaj	27,141	30,086	5	57,232
Wajir East	59,359	51,292	3	110,654
Wajir North	31,990	30,209	7	62,206
Wajir South	64,947	51,864	3	116,814
Wajir West	65,785	56,037	6	121,828
Mandera	**434,976**	**432,444**	**37**	**867,457**
Mandera West	48,166	50,130	4	98,300
Banisa	78,301	74,288	9	152,598
Kutulo	35,799	36,593	2	72,394
Lafey	40,476	42,976	5	83,457
Mandera Central	71,688	85,527	5	157,220
Mandera East	83,538	76,095	5	159,638
Mandera North	77,008	66,835	7	143,850
Marsabit	**243,548**	**216,219**	**18**	**459,785**
Loiyangalani	17,659	18,051	3	35,713
Marsabit Central	40,956	38,214	11	79,181
Marsabit North	30,091	24,205	1	54,297
Marsabit South	33,215	32,161	..	65,376
Moyale	56,440	52,508	1	108,949
North Horr	41,719	29,726	2	71,447
Sololo	23,468	21,354	..	44,822
Isiolo	**139,510**	**128,483**	**9**	**268,002**
Garbatulla	54,661	45,068	1	99,730
Isiolo	60,414	60,647	5	121,066
Merti	24,435	22,768	3	47,206
Meru	**767,698**	**777,975**	**41**	**1,545,714**
Buuri East	38,101	38,497	..	76,598
Buuri West	40,496	40,264	2	80,762
Igembe Central	111,208	110,200	4	221,412
Igembe North	83,364	85,949	4	169,317
Igembe South	80,192	81,446	8	161,646
Imenti North	88,506	89,056	5	177,567
Imenti South	103,338	103,162	6	206,506
Meru Central	66,920	66,894	4	133,818
Tigania Central	51,814	52,916	..	104,730
Tigania East	35,352	37,194	3	72,549
Tigania West	67,715	72,241	5	139,961
Meru National Park*	283	102	..	385
Mt. Kenya Forest*	409	54	..	463

*Demarcated as a special area to ensure complete coverage during census enumeration

Table 2.5: Distribution of Population by Sex and Sub-County, Cont'd

National/ County	Sex			Total
	Male	Female	Intersex	
Tharaka-Nithi	**193,764**	**199,406**	**7**	**393,177**
Igambang'ombe	26,464	26,745	1	53,210
Maara	57,689	57,205	..	114,894
Meru South	44,923	46,155	2	91,080
Tharaka North	28,290	30,053	2	58,345
Tharaka South	36,190	39,058	2	75,250
Mt. Kenya Forest*	208	190	..	398
Embu	**304,208**	**304,367**	**24**	**608,599**
Embu East	64,571	64,991	2	129,564
Embu North	39,665	39,888	3	79,556
Embu West	63,125	63,966	9	127,100
Mbeere South	83,311	80,159	6	163,476
Mbeere North	53,517	55,360	4	108,881
Mt. Kenya Forest*	19	3	..	22
Kitui	**549,003**	**587,151**	**33**	**1,136,187**
Ikutha	39,986	42,976	2	82,964
Katulani	23,150	23,957	1	47,108
Kisasi	22,646	23,496	..	46,142
Kitui Central	52,123	53,863	5	105,991
Kitui West	33,887	36,983	1	70,871
Kyuso	36,789	40,077	1	76,867
Lower Yatta	31,701	31,628	..	63,329
Matinyani	23,362	24,448	1	47,811
Migwani	37,525	41,726	4	79,255
Mumoni	13,748	15,596	..	29,344
Mutitu	26,388	28,896	3	55,287
Mutitu North	10,337	10,877	1	21,215
Mutomo	54,819	58,531	6	113,356
Mwingi Central	52,539	56,174	..	108,713
Mwingi East	40,314	44,820	5	85,139
Nzambani	22,929	23,857	2	46,788
Thagicu	7,141	7,994	1	15,136
Tseikuru	19,619	21,252	..	40,871
Machakos	**710,707**	**711,191**	**34**	**1,421,932**
Athi River	164,322	158,172	5	322,499
Kalama	26,764	27,692	6	54,462
Kangundo	48,697	49,219	1	97,917
Kathiani	54,910	56,976	4	111,890
Machakos	85,486	85,114	6	170,606
Masinga	73,519	75,001	2	148,522
Matungulu	81,145	80,407	5	161,557
Mwala	90,427	91,466	3	181,896
Yatta	85,437	87,144	2	172,583

*Demarcated as a special area to ensure complete coverage during census enumeration

Table 2.5: Distribution of Population by Sex and Sub-County, Cont'd

National/ County	Sex			Total
	Male	Female	Intersex	
Makueni	**489,691**	**497,942**	**20**	**987,653**
Kathonzweni	39,335	40,442	3	79,780
Kibwezi	98,477	98,517	6	197,000
Kilungu	29,019	31,932	1	60,952
Makindu	42,204	42,742	..	84,946
Makueni	65,418	64,955	2	130,375
Mbooni East	48,152	49,601	3	97,756
Mbooni West	49,434	53,159	1	102,594
Mukaa	54,481	53,068	..	107,549
Nzaui	63,171	63,526	4	126,701
Nyandarua	**315,022**	**323,247**	**20**	**638,289**
Kinangop	54,727	56,679	4	111,410
Nyandarua South	46,157	47,708	5	93,870
Mirangine	33,447	33,766	1	67,214
Kipipiri	46,113	47,740	2	93,855
Nyandarua Central	37,329	37,931	2	75,262
Nyandarua West	48,752	49,209	4	97,965
Nyandarua North	48,486	50,210	2	98,698
Aberdare National Park*	11	4	..	15
Nyeri	**374,288**	**384,845**	**31**	**759,164**
Tetu	39,293	41,155	5	80,453
Kieni East	55,360	55,012	4	110,376
Kieni West	43,843	44,677	5	88,525
Mathira East	48,070	50,992	3	99,065
Mathira West	29,480	30,412	3	59,895
Nyeri South	44,115	46,964	2	91,081
Mukurwe-ini	43,975	45,156	6	89,137
Nyeri Central	69,955	70,380	3	140,338
Mt. Kenya Forest*	123	65	..	188
Aberdare Forest*	74	32	..	106
Kirinyaga	**302,011**	**308,369**	**31**	**610,411**
Kirinyaga Central	60,118	62,617	5	122,740
Kirinyaga East	67,037	68,514	8	135,559
Kirinyaga West	56,154	58,502	4	114,660
Mwea East	66,432	66,114	8	132,554
Mwea West	52,228	52,594	6	104,828
Mt. Kenya Forest*	42	28	..	70
Murang'a	**523,940**	**532,669**	**31**	**1,056,640**
Murang'a East	54,665	55,645	1	110,311
Kangema	39,582	40,862	3	80,447
Mathioya	45,454	47,359	1	92,814
Kahuro	43,352	44,834	7	88,193
Murang'a South	91,732	93,087	5	184,824
Gatanga	94,437	93,548	4	187,989
Kigumo	67,989	68,929	3	136,921
Kandara	86,698	88,393	7	175,098
Aberdare Forest*	31	12	..	43

*Demarcated as a special area to ensure complete coverage during census enumeration

Table 2.5: Distribution of Population by Sex and Sub-County, Cont'd

National/ County	Sex			Total
	Male	Female	Intersex	
Kiambu	**1,187,146**	**1,230,454**	**135**	**2,417,735**
Gatundu North	54,189	55,678	3	109,870
Gatundu South	60,384	61,714	5	122,103
Githunguri	82,037	83,187	8	165,232
Juja	148,446	152,480	22	300,948
Kabete	97,794	101,845	14	199,653
Kiambaa	115,690	120,695	15	236,400
Kiambu	69,661	76,225	17	145,903
Kikuyu	90,919	96,198	5	187,122
Lari	67,061	68,238	4	135,303
Limuru	79,632	79,682	..	159,314
Ruiru	180,947	190,144	20	371,111
Thika East	19,688	19,264	4	38,956
Thika West	120,698	125,104	18	245,820
Turkana	**478,087**	**448,868**	**21**	**926,976**
Kibish	18,651	18,117	1	36,769
Loima	54,341	53,453	1	107,795
Turkana Central	93,145	92,160	..	185,305
Turkana East	76,871	61,643	12	138,526
Turkana North	32,810	32,408	..	65,218
Turkana South	78,402	75,329	5	153,736
Turkana West	123,867	115,758	2	239,627
West Pokot	**307,013**	**314,213**	**15**	**621,241**
Kipkomo	50,923	51,703	7	102,633
Pokot Central	59,682	59,331	3	119,016
Pokot North	64,780	69,702	3	134,485
Pokot South	39,808	40,851	2	80,661
West Pokot	91,820	92,626	..	184,446
Samburu	**156,774**	**153,546**	**7**	**310,327**
Samburu Central	83,633	81,307	2	164,942
Samburu East	38,211	39,782	1	77,994
Samburu North	34,930	32,457	4	67,391
Trans Nzoia	**489,107**	**501,206**	**28**	**990,341**
Trans Nzoia West	101,198	101,174	5	202,377
Trans Nzoia East	113,498	116,029	11	229,538
Kwanza	100,234	103,584	3	203,821
Endebess	56,090	55,689	3	111,782
Kiminini	118,087	124,730	6	242,823
Uasin Gishu	**580,269**	**582,889**	**28**	**1,163,186**
Ainabkoi	68,348	69,835	1	138,184
Kapseret	99,650	98,845	4	198,499
Kesses	74,301	74,493	4	148,798
Moiben	90,309	91,027	2	181,338
Soy	114,082	115,007	5	229,094
Turbo	133,579	133,682	12	267,273

Table 2.5: Distribution of Population by Sex and Sub-County, Cont'd

National/ County	Sex			Total
	Male	Female	Intersex	
Elgeyo/Marakwet	**227,317**	**227,151**	**12**	**454,480**
Keiyo North	49,601	49,574	1	99,176
Keiyo South	60,919	59,827	4	120,750
Marakwet East	47,849	49,190	2	97,041
Marakwet West	68,948	68,560	5	137,513
Nandi	**441,259**	**444,430**	**22**	**885,711**
Chesumei	80,949	83,180	4	164,133
Nandi Central	73,291	74,255	7	147,553
Nandi East	59,899	59,271	3	119,173
Nandi North	82,512	83,656	3	166,171
Nandi South	85,718	87,029	3	172,750
Tinderet	58,890	57,039	2	115,931
Baringo	**336,322**	**330,428**	**13**	**666,763**
Baringo Central	48,120	48,829	2	96,951
Baringo North	52,369	52,500	2	104,871
East Pokot	40,462	39,459	2	79,923
Koibatek	65,295	64,238	2	129,535
Marigat	45,706	45,246	3	90,955
Mogotio	46,014	45,088	2	91,104
Tiaty East	38,356	35,068	..	73,424
Laikipia	**259,440**	**259,102**	**18**	**518,560**
Laikipia Central	47,888	47,705	1	95,594
Laikipia East	52,078	50,732	5	102,815
Laikipia North	18,067	18,116	1	36,184
Laikipia West	65,158	64,102	3	129,263
Nyahururu	76,249	78,447	8	154,704
Nakuru	**1,077,272**	**1,084,835**	**95**	**2,162,202**
Gilgil	92,955	92,247	7	185,209
Kuresoi North	87,472	87,599	3	175,074
Kuresoi South	78,204	77,117	3	155,324
Molo	78,129	78,598	5	156,732
Naivasha	179,222	176,132	29	355,383
Nakuru East	92,956	100,960	10	193,926
Nakuru North	106,155	111,880	15	218,050
Nakuru West	101,797	96,854	10	198,661
Njoro	118,361	120,408	4	238,773
Rongai	99,976	99,922	8	199,906
Subukia	42,045	43,118	1	85,164
Narok	**579,042**	**578,805**	**26**	**1,157,873**
Narok East	58,699	56,617	7	115,323
Narok North	128,024	123,829	9	251,862
Narok South	118,441	120,029	2	238,472
Narok West	97,085	98,198	4	195,287
Trans Mara East	54,545	56,637	1	111,183
Trans Mara West	122,220	123,491	3	245,714
Mau Forest*	28	4	..	32

*Demarcated as a special area to ensure complete coverage during census enumeration

Table 2.5: Distribution of Population by Sex and Sub-County, Cont'd

National/ County	Sex			Total
	Male	Female	Intersex	
Kajiado	**557,098**	**560,704**	**38**	**1,117,840**
Isinya	105,607	104,860	6	210,473
Kajiado Central	81,514	80,343	5	161,862
Kajiado North	150,675	155,908	13	306,596
Kajiado West	91,607	91,237	5	182,849
Loitokitok	94,613	97,225	8	191,846
Mashuuru	33,082	31,131	1	64,214
Kericho	**450,741**	**451,008**	**28**	**901,777**
Belgut	72,508	72,564	..	145,072
Bureti	98,823	100,642	5	199,470
Kericho East	86,671	83,947	7	170,625
Kipkelion	61,066	61,460	4	122,530
Londiani	68,570	69,000	10	137,580
Soin Sigowet	63,103	63,395	2	126,500
Bomet	**434,287**	**441,379**	**23**	**875,689**
Bomet East	71,095	73,172	8	144,275
Chepalungu	79,921	84,912	4	164,837
Konoin	83,120	80,384	3	163,507
Sotik	112,369	115,482	4	227,855
Bomet Central	87,782	87,429	4	175,215
Kakamega	**897,133**	**970,406**	**40**	**1,867,579**
Butere	73,634	80,463	3	154,100
Kakamega Central	92,774	95,432	6	188,212
Kakamega East	80,853	86,784	4	167,641
Kakamega North	115,511	122,814	5	238,330
Kakamega South	53,219	58,524	..	111,743
Khwisero	53,670	59,803	3	113,476
Likuyani	73,710	78,341	4	152,055
Lugari	59,135	63,593	..	122,728
Matete	31,749	34,423	..	66,172
Matungu	78,793	88,143	4	166,940
Mumias East	55,895	60,953	3	116,851
Mumias West	54,915	60,438	1	115,354
Navakholo	73,275	80,695	7	153,977
Vihiga	**283,678**	**306,323**	**12**	**590,013**
Emuhaya	46,507	50,633	1	97,141
Vihiga	45,788	49,501	3	95,292
Sabatia	62,944	68,683	1	131,628
Luanda	51,525	55,165	4	106,694
Hamisi	76,901	82,337	3	159,241
Kakamega Forest*	13	4	..	17

*Demarcated as a special area to ensure complete coverage during census enumeration

Table 2.5: Distribution of Population by Sex and Sub-County, Cont'd

National/ County	Sex			Total
	Male	Female	Intersex	
Bungoma	**812,146**	**858,389**	**35**	**1,670,570**
Bumula	103,368	112,523	1	215,892
Bungoma Central	86,302	91,438	8	177,748
Bungoma East	55,775	58,771	2	114,548
Bungoma North	58,790	62,526	1	121,317
Bungoma South	139,705	148,055	5	287,765
Cheptais	67,717	68,312	6	136,035
Kimilili-Bungoma	78,560	83,475	3	162,038
Mt. Elgon	38,977	39,893	3	78,873
Bungoma West	58,225	61,649	1	119,875
Tongaren	48,685	51,657	1	100,343
Webuye West	74,180	78,331	4	152,515
Mt. Elgon Forest*	1,862	1,759	..	3,621
Busia	**426,252**	**467,401**	**28**	**893,681**
Bunyala	41,465	44,511	1	85,977
Busia	69,034	73,373	1	142,408
Butula	65,136	75,195	3	140,334
Nambale	52,900	58,732	4	111,636
Samia	50,821	56,341	14	107,176
Teso North	66,412	71,619	3	138,034
Teso South	80,484	87,630	2	168,116
Siaya	**471,669**	**521,496**	**18**	**993,183**
Siaya	105,906	118,433	4	224,343
Gem	85,696	94,092	4	179,792
Ugenya	62,624	71,726	4	134,354
Ugunja	48,912	55,329	..	104,241
Bondo	95,962	101,917	4	197,883
Rarieda	72,569	79,999	2	152,570
Kisumu	**560,942**	**594,609**	**23**	**1,155,574**
Kisumu East	108,304	112,689	4	220,997
Kisumu Central	84,155	89,985	5	174,145
Kisumu West	85,697	87,121	3	172,821
Seme	57,658	64,007	2	121,667
Muhoroni	76,770	77,345	1	154,116
Nyando	77,121	84,380	7	161,508
Nyakach	71,237	79,082	1	150,320
Homa Bay	**539,560**	**592,367**	**23**	**1,131,950**
Homa Bay	55,756	61,681	2	117,439
Ndhiwa	103,706	114,422	8	218,136
Rachuonyo North	85,409	93,273	4	178,686
Rachuonyo East	57,709	64,111	2	121,822
Rachuonyo South	61,663	69,151	..	130,814
Rangwe	55,404	62,325	3	117,732
Suba North	60,530	64,406	2	124,938
Suba South	59,383	62,998	2	122,383

*Demarcated as a special area to ensure complete coverage during census enumeration

Table 2.5: Distribution of Population by Sex and Sub-County, Cont'd

National/ County	Sex			Total
	Male	Female	Intersex	
Migori	**536,187**	**580,214**	**35**	**1,116,436**
Awendo	56,348	60,939	3	117,290
Kuria East	46,969	49,894	9	96,872
Kuria West	101,090	107,417	6	208,513
Nyatike	83,989	92,164	9	176,162
Rongo	59,257	65,329	1	124,587
Suna East	58,977	63,694	3	122,674
Suna West	61,430	67,459	1	128,890
Uriri	68,127	73,318	3	141,448
Kisii	**605,784**	**661,038**	**38**	**1,266,860**
Etago	40,137	43,647	3	83,787
Gucha	39,631	44,108	1	83,740
Gucha South	40,022	43,598	3	83,623
Kenyenya	62,859	68,878	3	131,740
Kisii Central	81,330	85,573	3	166,906
Kisii South	64,514	70,615	5	135,134
Kitutu Central	74,608	79,561	6	154,175
Marani	50,598	56,864	2	107,464
Masaba South	58,143	64,248	5	122,396
Nyamache	62,113	68,782	3	130,898
Sameta	31,829	35,164	4	66,997
Nyamira	**290,907**	**314,656**	**13**	**605,576**
Borabu	36,736	36,431	..	73,167
Manga	44,868	49,339	2	94,209
Masaba North	52,884	58,974	2	111,860
Nyamira North	80,314	86,947	6	167,267
Nyamira South	76,105	82,965	3	159,073
Nairobi City	**2,192,452**	**2,204,376**	**245**	**4,397,073**
Dagoretti	217,651	216,526	31	434,208
Embakasi	492,476	496,270	62	988,808
Kamukunji	136,670	131,599	7	268,276
Kasarani	381,234	399,385	37	780,656
Kibra	94,199	91,569	9	185,777
Lang'ata	96,698	100,774	17	197,489
Makadara	96,369	93,157	10	189,536
Mathare	106,522	100,028	14	206,564
Njiru	307,642	318,809	31	626,482
Starehe	109,173	101,238	12	210,423
Westlands	153,818	155,021	15	308,854

Table 2.6: Distribution of Population, Number of Households and Average Household Size by Sub-County

National/ County	Population+	Number of Households	Average Household size
Kenya……	**47,213,282**	**12,143,913**	**3.9**
County/ Sub County			
Mombasa……	**1,190,987**	**378,422**	3.1
Changamwe……	130,541	46,614	2.8
Jomvu……	162,760	53,472	3.0
Kisauni……	287,131	88,202	3.3
Likoni……	249,230	81,191	3.1
Mvita……	147,983	38,995	3.8
Nyali……	213,342	69,948	3.1
Kwale……	**858,748**	**173,176**	**5.0**
Kinango……	93,789	16,043	5.8
Lungalunga……	198,195	37,366	5.3
Matuga……	192,999	39,231	4.9
Msambweni……	173,213	45,466	3.8
Samburu-Kwale……	200,552	35,070	5.7
Kilifi……	**1,440,958**	**298,472**	4.8
Chonyi……	62,318	11,421	5.5
Ganze……	143,590	23,258	**6.2**
Kaloleni……	192,905	36,355	5.3
Kauma……	22,613	3,479	6.5
Kilifi North……	177,527	39,512	4.5
Kilifi South……	203,891	53,074	3.8
Magarini……	190,644	33,017	5.8
Malindi……	326,991	73,547	4.4
Rabai……	120,479	24,809	4.9
Tana River……	**314,710**	**68,242**	**4.6**
Tana North……	110,293	22,791	4.8
Tana Delta……	116,463	26,886	4.3
Tana River……	87,954	18,565	4.7
Lamu……	**141,909**	**37,963**	**3.7**
Lamu East……	22,212	5,090	4.4
Lamu West……	119,697	32,873	3.6
Taita/Taveta……	**335,747**	**96,429**	3.5
Mwatate……	81,389	23,698	3.4
Taita……	55,643	15,094	3.7
Taveta……	89,319	24,115	3.7
Voi……	109,396	33,522	3.3
Garissa……	**835,482**	**141,394**	5.9
Balambala……	31,819	4,337	7.3
Dadaab……	183,410	35,793	5.1
Fafi……	133,286	23,671	5.6
Garissa……	161,951	30,518	5.3
Hulugho……	133,746	20,254	6.6
Ijara……	141,418	18,481	7.7
Lagdera……	49,852	8,340	6.0

+ Excludes the special population (travellers, outdoor sleepers, individuals in hotels and lodges and persons in institutions).

Table 2.6: Distribution of Population, Number of Households and Average Household Size by Sub-County, Cont'd

National/ County	Population+	Number of Households	Average Household size
Wajir	**775,302**	**127,932**	**6.1**
Buna	48,117	6,480	7.4
Eldas	88,310	13,892	6.4
Habaswein	173,446	31,292	5.5
Tarbaj	56,983	9,378	6.1
Wajir East	109,316	18,674	5.9
Wajir North	61,867	10,490	5.9
Wajir South	116,225	21,364	5.4
Wajir West	121,038	16,362	7.4
Mandera	**862,079**	**125,763**	**6.9**
Mandera West	97,983	14,274	6.9
Banisa	152,043	24,285	6.3
Kutulo	71,602	9,446	7.6
Lafey	83,001	11,597	7.2
Mandera Central	156,623	21,140	7.4
Mandera East	158,586	25,904	6.1
Mandera North	142,241	19,117	7.4
Marsabit	**447,150**	**77,495**	**5.8**
Loiyangalani	35,274	7,774	4.5
Marsabit Central	78,167	15,849	4.9
Marsabit North	49,056	7,521	6.5
Marsabit South	64,937	11,615	5.6
Moyale	108,223	17,709	6.1
North Horr	67,154	9,789	6.9
Sololo	44,339	7,238	6.1
Isiolo	**267,997**	**58,072**	**4.6**
Garbatulla	99,730	18,661	5.3
Isiolo	121,061	29,853	4.1
Merti	47,206	9,558	4.9
Meru	**1,535,635**	**426,360**	**3.6**
Buuri East	75,943	23,834	3.2
Buuri West	80,419	27,973	2.9
Igembe Central	219,887	52,031	4.2
Igembe North	168,903	38,871	4.3
Igembe South	160,851	43,281	3.7
Imenti North	173,876	57,668	3.0
Imenti South	205,487	64,186	3.2
Meru Central	133,165	39,595	3.4
Tigania Central	104,558	25,039	4.2
Tigania East	72,471	17,185	4.2
Tigania West	139,312	36,207	3.8
Meru National Park*	317	207	1.5
Mt. Kenya Forest*	446	283	1.6

+ Excludes the special population (travellers, outdoor sleepers, individuals in hotels and lodges and persons in institutions).

*Demarcated as a special area to ensure complete coverage during census enumeration

Table 2.6: Distribution of Population, Number of Households and Average Household Size by Sub-County, Cont'd

National/ County	Population+	Number of Households	Average Household size
Tharaka-Nithi	**391,303**	**109,860**	**3.6**
Igambang'ombe	52,802	14,398	3.7
Maara	114,734	35,041	3.3
Meru South	90,520	28,249	3.2
Tharaka North	58,252	13,413	4.3
Tharaka South	74,824	18,646	4.0
Mt. Kenya Forest*	171	113	1.5
Embu	**604,769**	**182,743**	3.3
Embu East	129,097	39,678	3.3
Embu North	79,465	24,300	**3.3**
Embu West	124,616	43,153	2.9
Mbeere South	162,918	46,065	3.5
Mbeere North	108,651	29,528	3.7
Mt. Kenya Forest*	22	19	1.2
Kitui	**1,130,134**	**262,942**	4.3
Ikutha	82,463	16,679	4.9
Katulani	46,913	12,170	3.9
Kisasi	46,003	10,866	**4.2**
Kitui Central	104,128	29,057	3.6
Kitui West	70,635	17,497	4.0
Kyuso	76,452	15,993	4.8
Lower Yatta	62,938	15,454	4.1
Matinyani	47,802	11,513	4.2
Migwani	79,066	19,096	4.1
Mumoni	29,321	6,496	4.5
Mutitu	55,136	11,521	**4.8**
Mutitu North	21,128	4,929	4.3
Mutomo	112,703	23,044	4.9
Mwingi Central	107,973	26,753	4.0
Mwingi East	84,973	18,730	**4.5**
Nzambani	46,710	11,276	4.1
Thagicu	15,096	3,289	4.6
Tseikuru	40,694	8,579	4.7
Machakos	**1,414,022**	**402,466**	3.5
Athi River	319,526	109,735	2.9
Kalama	54,408	14,182	3.8
Kangundo	97,700	26,142	3.7
Kathiani	111,757	28,730	3.9
Machakos	168,255	50,979	3.3
Masinga	148,181	36,251	4.1
Matungulu	161,080	44,454	3.6
Mwala	181,671	45,840	4.0
Yatta	171,444	46,153	3.7

+ Excludes the special population (travellers, outdoor sleepers, individuals in hotels and lodges and persons in institutions).

*Demarcated as a special area to ensure complete coverage during census enumeration

Table 2.6: Distribution of Population, Number of Households and Average Household Size by Sub-County, Cont'd

National/ County	Population+	Number of Households	Average Household size
Makueni	**977,015**	**244,669**	**4.0**
Kathonzweni	79,281	18,365	4.3
Kibwezi	194,004	47,912	4.0
Kilungu	60,869	14,586	4.2
Makindu	83,391	21,756	3.8
Makueni	128,880	34,479	3.7
Mbooni East	97,523	23,734	4.1
Mbooni West	102,292	24,833	4.1
Mukaa	106,239	28,185	3.8
Nzaui	124,536	30,819	4.0
Nyandarua	**636,002**	**179,686**	**3.5**
Kinangop	111,119	30,970	3.6
Nyandarua South	93,228	25,822	3.6
Mirangine	67,121	18,816	3.6
Kipipiri	93,698	25,200	3.7
Nyandarua Central	74,835	21,942	3.4
Nyandarua West	97,590	29,008	3.4
Nyandarua North	98,396	27,917	3.5
Aberdare National Park*	15	11	1.4
Nyeri	**752,695**	**248,050**	**3.0**
Tetu	80,283	24,139	3.3
Kieni East	109,624	36,835	3.0
Kieni West	88,014	27,619	3.2
Mathira East	98,425	35,044	2.8
Mathira West	59,729	19,020	3.1
Nyeri South	90,803	28,228	3.2
Mukurwe-ini	88,674	27,040	3.3
Nyeri Central	136,849	49,945	2.7
Mt. Kenya Forest*	188	101	1.9
Aberdare Forest*	106	79	1.3
Kirinyaga	**605,630**	**204,188**	**3.0**
Kirinyaga Central	121,419	40,225	3.0
Kirinyaga East	135,085	44,571	3.0
Kirinyaga West	114,191	38,309	3.0
Mwea East	130,571	46,340	2.8
Mwea West	104,327	34,720	3.0
Mt. Kenya Forest*	37	23	1.6
Murang'a	**1,053,059**	**318,105**	**3.3**
Murang'a East	108,675	34,734	3.1
Kangema	80,189	25,293	3.2
Mathioya	92,656	28,400	3.3
Kahuro	88,059	26,930	3.3
Murang'a South	184,190	55,998	3.3
Gatanga	187,631	55,461	3.4
Kigumo	136,827	40,552	3.4
Kandara	174,789	50,704	3.4
Aberdare Forest*	43	33	1.3

+ Excludes the special population (travellers, outdoor sleepers, individuals in hotels and lodges and persons in institutions).

*Demarcated as a special area to ensure complete coverage during census enumeration

Table 2.6: Distribution of Population, Number of Households and Average Household Size by Sub-County, Cont'd

National/ County	Population+	Number of Households	Average Household size
Kiambu	**2,402,834**	**795,241**	**3.0**
Gatundu North	109,654	31,472	3.5
Gatundu South	121,693	35,609	3.4
Githunguri	164,939	49,426	3.3
Juja	299,671	104,301	2.9
Kabete	199,114	66,710	3.0
Kiambaa	235,858	80,332	2.9
Kiambu	144,241	47,275	3.1
Kikuyu	186,093	60,686	3.1
Lari	134,651	38,592	3.5
Limuru	157,873	49,174	3.2
Ruiru	369,618	129,470	2.9
Thika East	38,573	12,736	3.0
Thika West	240,856	89,458	2.7
Turkana	**922,210**	**164,519**	**5.6**
Kibish	36,401	5,805	6.3
Loima	106,625	19,438	5.5
Turkana Central	183,121	38,173	4.8
Turkana East	138,265	17,981	7.7
Turkana North	65,125	13,119	5.0
Turkana South	153,350	24,552	6.2
Turkana West	239,323	45,451	5.3
West Pokot	**618,867**	**116,182**	**5.3**
Kipkomo	102,311	18,370	5.6
Pokot Central	118,721	21,850	5.4
Pokot North	134,012	25,804	5.2
Pokot South	80,590	13,817	5.8
West Pokot	183,233	36,341	5.0
Samburu	**307,957**	**65,910**	**4.7**
Samburu Central	163,942	34,202	4.8
Samburu East	77,136	18,424	4.2
Samburu North	66,879	13,284	5.0
Trans Nzoia	**985,333**	**223,808**	**4.4**
Trans Nzoia West	199,644	47,603	4.2
Trans Nzoia East	229,117	50,017	4.6
Kwanza	203,586	45,752	4.4
Endebess	111,681	23,705	4.7
Kiminini	241,305	56,731	4.3
Uasin Gishu	**1,152,671**	**304,943**	**3.8**
Ainabkoi	137,117	34,892	3.9
Kapseret	196,883	59,746	3.3
Kesses	148,228	34,653	4.3
Moiben	178,105	46,729	3.8
Soy	228,219	53,784	4.2
Turbo	264,119	75,139	3.5

+ Excludes the special population (travellers, outdoor sleepers, individuals in hotels and lodges and persons in institutions).

Table 2.6: Distribution of Population, Number of Households and Average Household Size by Sub-County, Cont'd

National/ County	Population+	Number of Households	Average Household size
Elgeyo/Marakwet	**453,403**	**99,861**	**4.5**
Keiyo North	98,683	21,947	4.5
Keiyo South	120,643	27,029	4.5
Marakwet East	96,897	21,362	4.5
Marakwet West	137,180	29,523	4.6
Nandi	**883,634**	**199,426**	**4.4**
Chesumei	163,564	39,051	4.2
Nandi Central	146,634	34,400	4.3
Nandi East	118,997	29,253	4.1
Nandi North	166,023	35,297	4.7
Nandi South	172,672	37,094	4.7
Tinderet	115,744	24,331	4.8
Baringo	**662,760**	**142,518**	**4.7**
Baringo Central	96,195	23,555	4.1
Baringo North	104,654	23,500	4.5
East Pokot	79,770	14,498	5.5
Koibatek	128,874	30,774	4.2
Marigat	89,210	19,854	4.5
Mogotio	90,911	18,184	5.0
Tiaty East	73,146	12,153	6.0
Laikipia	**513,879**	**149,271**	**3.4**
Laikipia Central	95,281	30,372	3.1
Laikipia East	100,874	33,505	3.0
Laikipia North	35,870	7,752	4.6
Laikipia West	128,693	33,025	3.9
Nyahururu	153,161	44,617	3.4
Nakuru	**2,142,667**	**616,046**	**3.5**
Gilgil	182,862	58,920	3.1
Kuresoi North	174,898	40,359	4.3
Kuresoi South	154,998	34,627	4.5
Molo	156,279	41,462	3.8
Naivasha	349,067	117,633	3.0
Nakuru East	190,161	61,398	3.1
Nakuru North	217,425	61,728	3.5
Nakuru West	194,723	64,481	3.0
Njoro	238,233	61,271	3.9
Rongai	199,004	52,348	3.8
Subukia	85,017	21,819	3.9
Narok	**1,149,379**	**241,125**	**4.8**
Narok East	115,091	25,078	4.6
Narok North	250,105	59,996	4.2
Narok South	238,301	46,723	5.1
Narok West	190,237	38,658	4.9
Trans Mara East	111,119	20,506	5.4
Trans Mara West	244,494	50,132	4.9
Mau Forest*	32	32	1.0

+ Excludes the special population (travellers, outdoor sleepers, individuals in hotels and lodges and persons in institutions).

*Demarcated as a special area to ensure complete coverage during census enumeration

Table 2.6: Distribution of Population, Number of Households and Average Household Size by Sub-County, Cont'd

National/ County	Population+	Number of Households	Average Household size
Kajiado	**1,107,296**	**316,179**	**3.5**
Isinya	207,715	71,579	2.9
Kajiado Central	159,520	37,238	4.3
Kajiado North	304,404	101,378	3.0
Kajiado West	181,622	42,774	4.2
Loitokitok	190,174	47,058	4.0
Mashuuru	63,861	16,152	4.0
Kericho	**896,863**	**206,036**	**4.4**
Belgut	144,882	35,012	4.1
Bureti	198,781	43,117	4.6
Kericho East	167,898	44,246	3.8
Kipkelion	122,380	24,688	5.0
Londiani	137,013	31,778	4.3
Soin Sigowet	125,909	27,195	4.6
Bomet	**873,023**	**187,641**	**4.7**
Bomet East	143,816	29,958	4.8
Chepalungu	164,710	33,931	4.9
Konoin	163,359	38,178	4.3
Sotik	227,380	47,315	4.8
Bomet Central	173,758	38,259	4.5
Kakamega	**1,861,332**	**433,207**	**4.3**
Butere	153,926	36,243	4.2
Kakamega Central	185,625	52,015	3.6
Kakamega East	166,288	39,589	4.2
Kakamega North	238,093	51,083	4.7
Kakamega South	111,608	26,964	4.1
Khwisero	113,294	27,681	4.1
Likuyani	151,773	35,322	4.3
Lugari	122,584	27,862	4.4
Matete	66,155	13,956	4.7
Matungu	166,755	36,457	4.6
Mumias East	116,712	26,049	4.5
Mumias West	114,601	27,671	4.1
Navakholo	153,918	32,315	4.8
Vihiga	**587,189**	**143,365**	**4.1**
Emuhaya	97,035	23,804	4.1
Vihiga	94,509	23,375	4.0
Sabatia	130,851	31,422	4.2
Luanda	105,707	26,766	3.9
Hamisi	159,070	37,986	4.2
Kakamega Forest*	17	12	1.4

+ Excludes the special population (travellers, outdoor sleepers, individuals in hotels and lodges and persons in institutions).

*Demarcated as a special area to ensure complete coverage during census enumeration

Table 2.6: Distribution of Population, Number of Households and Average Household Size by Sub-County, Cont'd

National/ County	Population+	Number of Households	Average Household size
Bungoma	**1,663,898**	**358,796**	**4.6**
Bumula	215,546	44,954	4.8
Bungoma Central	177,175	37,803	4.7
Bungoma East	114,242	24,873	4.6
Bungoma North	120,871	24,998	4.8
Bungoma South	284,662	69,151	4.1
Cheptais	135,864	26,326	5.2
Kimilili-Bungoma	161,628	35,263	4.6
Mt. Elgon	78,782	15,276	5.2
Bungoma West	119,585	25,172	4.8
Tongaren	100,268	21,343	4.7
Webuye West	151,654	32,839	4.6
Mt. Elgon Forest*	3,621	798	4.5
Busia	**886,856**	**198,152**	**4.5**
Bunyala	85,645	19,039	4.5
Busia	138,274	33,160	4.2
Butula	140,051	32,213	4.3
Nambale	111,543	23,892	4.7
Samia	107,004	23,884	4.5
Teso North	136,804	29,395	4.7
Teso South	167,535	36,569	4.6
Siaya	**989,708**	**250,698**	**3.9**
Siaya	223,182	57,553	3.9
Gem	179,570	44,884	4.0
Ugenya	134,166	33,565	4.0
Ugunja	103,892	26,328	3.9
Bondo	196,835	51,362	3.8
Rarieda	152,063	37,006	4.1
Kisumu	**1,144,777**	**300,745**	**3.8**
Kisumu East	219,996	61,871	3.6
Kisumu Central	170,592	52,331	3.3
Kisumu West	169,806	45,933	3.7
Seme	121,461	29,404	4.1
Muhoroni	151,799	37,193	4.1
Nyando	160,804	38,460	4.2
Nyakach	150,319	35,553	4.2
Homa Bay	**1,125,823**	**262,036**	**4.3**
Homa Bay	116,034	29,318	4.0
Ndhiwa	217,549	48,062	4.5
Rachuonyo North	178,036	41,809	4.3
Rachuonyo East	121,233	27,319	4.4
Rachuonyo South	130,212	30,990	4.2
Rangwe	117,128	27,003	4.3
Suba North	123,892	29,766	4.2
Suba South	121,739	27,769	4.4

+ Excludes the special population (travellers, outdoor sleepers, individuals in hotels and lodges and persons in institutions).

*Demarcated as a special area to ensure complete coverage during census enumeration

Table 2.6: Distribution of Population, Number of Households and Average Household Size by Sub-County, Cont'd

National/ County	Population+	Number of Households	Average Household size
Migori	**1,108,950**	**240,168**	**4.6**
Awendo	116,268	27,033	4.3
Kuria East	96,455	17,363	5.6
Kuria West	207,528	39,781	5.2
Nyatike	175,180	40,257	4.4
Rongo	123,984	29,087	4.3
Suna East	121,365	27,302	4.4
Suna West	127,113	29,251	4.3
Uriri	141,057	30,094	4.7
Kisii	**1,260,509**	**308,054**	**4.1**
Etago	83,661	18,610	4.5
Gucha	83,098	19,657	4.2
Gucha South	83,209	19,732	4.2
Kenyenya	131,325	30,989	4.2
Kisii Central	163,782	44,311	3.7
Kisii South	134,940	31,696	4.3
Kitutu Central	153,686	41,271	3.7
Marani	107,230	26,186	4.1
Masaba South	122,149	29,232	4.2
Nyamache	130,666	30,712	4.3
Sameta	66,763	15,658	4.3
Nyamira	**603,051**	**150,669**	**4.0**
Borabu	72,797	19,468	3.7
Manga	94,056	23,869	3.9
Masaba North	110,914	27,913	4.0
Nyamira North	166,959	40,446	4.1
Nyamira South	158,325	38,973	4.1
Nairobi City	**4,337,080**	**1,506,888**	**2.9**
Dagoretti	432,331	155,089	2.8
Embakasi	983,232	347,955	2.8
Kamukunji	263,462	84,365	3.1
Kasarani	772,586	271,290	2.8
Kibra	181,509	61,690	2.9
Lang'ata	191,207	62,239	3.1
Makadara	188,792	70,361	2.7
Mathare	204,469	74,967	2.7
Njiru	623,471	204,563	3.0
Starehe	194,726	69,389	2.8
Westlands	301,295	104,980	2.9

+ Excludes the special population (travellers, outdoor sleepers, individuals in hotels and lodges and persons in institutions).

Table 2.7: Distribution of Population by Land Area and Population Density by Sub-County

National/ County	Population	Land Area (Sq. Km)	Population Density (No. per Sq. Km)
Kenya	**47,564,296**	**580,876.3**	**82**
County/ Sub County			
Mombasa	**1,208,333**	**219.9**	**5,495**
Changamwe	131,882	17.7	7,457
Jomvu	163,415	36.9	4,432
Kisauni	291,930	87.7	3,328
Likoni	250,358	40.5	6,187
Mvita	154,171	14.6	10,543
Nyali	216,577	22.5	9,610
Kwale	**866,820**	**8,267.1**	**105**
Kinango	94,220	1,614.0	58
Lungalunga	198,423	2,765.2	72
Matuga	194,252	1,032.4	188
Msambweni	177,690	411.7	432
Samburu-Kwale	202,235	2,443.7	83
Kilifi	**1,453,787**	**12,539.7**	**116**
Chonyi	62,335	192.6	324
Ganze	143,906	3,204.4	45
Kaloleni	193,682	706.1	274
Kauma	22,638	181.4	125
Kilifi North	178,824	264.4	676
Kilifi South	206,753	290.5	712
Magarini	191,610	5,229.4	37
Malindi	333,226	2,263.3	147
Rabai	120,813	207.8	581
Tana River	**315,943**	**37,950.5**	**8**
Tana North	110,640	15,478.7	7
Tana Delta	116,757	13,306.1	9
Tana River	88,546	9,165.6	10
Lamu	**143,920**	**6,253.3**	**23**
Lamu East	22,258	2,336.7	10
Lamu West	121,662	3,916.6	31
Taita/Taveta	**340,671**	**17,152.0**	**20**
Mwatate	81,659	2,722.6	30
Taita	55,959	477.9	117
Taveta	91,222	6,398.7	14
Voi	111,831	7,552.8	15
Garissa	**841,353**	**44,736.0**	**19**
Balambala	32,257	3,684.1	9
Dadaab	185,252	6,479.8	29
Fafi	134,040	15,072.9	9
Garissa	163,914	3,230.7	51
Hulugho	133,984	7,733.2	17
Ijara	141,591	2,438.9	58
Lagdera	50,315	6,096.4	8

Table 2.7: Distribution of Population by Land Area and Population Density by Sub-County, Cont'd

National/ County	Population	Land Area (Sq. Km)	Population Density (No. per Sq. Km)
Wajir	**781,263**	**56,773.1**	**14**
Buna	49,886	3,892.8	13
Eldas	88,509	4,444.0	20
Habaswein	174,134	10,912.5	16
Tarbaj	57,232	9,650.9	6
Wajir East	110,654	4,055.1	27
Wajir North	62,206	4,042.9	15
Wajir South	116,814	10,732.6	11
Wajir West	121,828	9,042.3	13
Mandera	**867,457**	**25,939.8**	**33**
Mandera West	98,300	4,016.9	24
Banisa	152,598	3,942.7	39
Kutulo	72,394	2,509.3	29
Lafey	83,457	3,846.3	22
Mandera Central	157,220	4,031.6	39
Mandera East	159,638	2,505.7	64
Mandera North	143,850	5,087.3	28
Marsabit	**459,785**	**70,944.1**	**6**
Loiyangalani	35,713	11,789.2	3
Marsabit Central	79,181	2,142.8	37
Marsabit North	54,297	19,836.8	3
Marsabit South	65,376	8,447.4	8
Moyale	108,949	3,395.5	32
North Horr	71,447	19,336.7	4
Sololo	44,822	5,995.6	7
Isiolo	**268,002**	**25,350.6**	**11**
Garbatulla	99,730	9,902.0	10
Isiolo	121,066	2,691.3	45
Merti	47,206	12,757.3	4
Meru	**1,545,714**	**7,006.3**	**221**
Buuri East	76,598	332.9	230
Buuri West	80,762	638.7	126
Igembe Central	221,412	604.1	366
Igembe North	169,317	1,076.9	157
Igembe South	161,646	255.2	633
Imenti North	177,567	230.8	769
Imenti South	206,506	413.9	499
Meru Central	133,818	381.8	350
Tigania Central	104,730	237.4	441
Tigania East	72,549	507.9	143
Tigania West	139,961	398.6	351
Meru National Park*	385	868.1	0
Mt. Kenya Forest*	463	1,059.9	0

*Demarcated as a special area to ensure complete coverage during census enumeration

Table 2.7: Distribution of Population by Land Area and Population Density by Sub-County, Cont'd

National/ County	Population	Land Area	Population Density
Tharaka-Nithi	**393,177**	**2,564.4**	**153**
Igambang'ombe	53,210	324.6	164
Maara	114,894	265.1	433
Meru South	91,080	138.8	656
Tharaka North	58,345	838.8	70
Tharaka South	75,250	637.0	118
Mt. Kenya Forest*	398	360.1	1
Embu	**608,599**	**2,820.7**	**216**
Embu East	129,564	253.3	512
Embu North	79,556	110.6	719
Embu West	127,100	158.1	804
Mbeere South	163,476	1,312.1	125
Mbeere North	108,881	783.6	139
Mt. Kenya Forest*	22	203.0	0
Kitui	**1,136,187**	**30,429.5**	**37**
Ikutha	82,964	9,033.1	9
Katulani	47,108	323.7	146
Kisasi	46,142	294.6	157
Kitui Central	105,991	421.8	251
Kitui West	70,871	416.4	170
Kyuso	76,867	2,524.5	30
Lower Yatta	63,329	1,191.0	53
Matinyani	47,811	264.2	181
Migwani	79,255	634.5	125
Mumoni	29,344	611.4	48
Mutitu	55,287	5,359.8	10
Mutitu North	21,215	548.3	39
Mutomo	113,356	2,202.9	51
Mwingi Central	108,713	1,146.4	95
Mwingi East	85,139	3,418.5	25
Nzambani	46,788	319.7	146
Thagicu	15,136	362.7	42
Tseikuru	40,871	1,356.0	30
Machakos	**1,421,932**	**6,042.7**	**235**
Athi River	322,499	827.2	390
Kalama	54,462	487.2	112
Kangundo	97,917	172.7	567
Kathiani	111,890	205.6	544
Machakos	170,606	280.2	609
Masinga	148,522	1,405.7	106
Matungulu	161,557	581.4	278
Mwala	181,896	1,020.3	178
Yatta	172,583	1,062.4	162

*Demarcated as a special area to ensure complete coverage during census enumeration

Table 2.7: Distribution of Population by Land Area and Population Density by Sub-County, Cont'd

National/ County	Population	Land Area (Sq. Km)	Population Density (No. per Sq. Km)
Makueni	**987,653**	**8,169.8**	**121**
Kathonzweni	79,780	880.7	91
Kibwezi	197,000	3,137.4	63
Kilungu	60,952	154.3	395
Makindu	84,946	852.1	100
Makueni	130,375	609.3	214
Mbooni East	97,756	686.5	142
Mbooni West	102,594	270.7	379
Mukaa	107,549	803.7	134
Nzaui	126,701	775.2	163
Nyandarua	**638,289**	**3,285.7**	**194**
Kinangop	111,410	293.6	379
Nyandarua South	93,870	313.6	299
Mirangine	67,214	245.6	274
Kipipiri	93,855	456.3	206
Nyandarua Central	75,262	346.6	217
Nyandarua West	97,965	384.9	255
Nyandarua North	98,698	528.4	187
Aberdare National Park*	15	716.7	0
Nyeri	**759,164**	**3,325.0**	**228**
Tetu	80,453	216.5	372
Kieni East	110,376	448.7	246
Kieni West	88,525	517.8	171
Mathira East	99,065	130.4	760
Mathira West	59,895	162.3	369
Nyeri South	91,081	169.2	538
Mukurwe-ini	89,137	179.1	498
Nyeri Central	140,338	167.6	837
Mt. Kenya Forest*	188	611.4	0
Aberdare Forest*	106	722.0	0
Kirinyaga	**610,411**	**1,478.3**	**413**
Kirinyaga Central	122,740	153.3	800
Kirinyaga East	135,559	231.8	585
Kirinyaga West	114,660	207.8	552
Mwea East	132,554	303.0	437
Mwea West	104,828	239.4	438
Mt. Kenya Forest*	70	343.0	0
Murang'a	**1,056,640**	**2,524.2**	**419**
Murang'a East	110,311	240.8	458
Kangema	80,447	173.7	463
Mathioya	92,814	177.5	523
Kahuro	88,193	169.4	521
Murang'a South	184,824	456.9	405
Gatanga	187,989	532.3	353
Kigumo	136,921	244.2	561
Kandara	175,098	234.6	746
Aberdare Forest*	43	294.7	0

*Demarcated as a special area to ensure complete coverage during census enumeration

Table 2.7: Distribution of Population by Land Area and Population Density by Sub-County, Cont'd

National/ County	Population	Land Area (Sq. Km)	Population Density (No. per Sq. Km)
Kiambu	**2,417,735**	**2,538.6**	**952**
Gatundu North	109,870	285.9	384
Gatundu South	122,103	193.6	631
Githunguri	165,232	174.4	948
Juja	300,948	342.0	880
Kabete	199,653	60.7	3,289
Kiambaa	236,400	91.1	2,595
Kiambu	145,903	98.3	1,484
Kikuyu	187,122	172.9	1,082
Lari	135,303	432.3	313
Limuru	159,314	285.1	559
Ruiru	371,111	201.1	1,846
Thika East	38,956	109.9	354
Thika West	245,820	91.4	2,689
Turkana	**926,976**	**68,232.9**	**14**
Kibish	36,769	10,466.1	4
Loima	107,795	9,113.3	12
Turkana Central	185,305	6,415.2	29
Turkana East	138,526	11,395.6	12
Turkana North	65,218	7,012.2	9
Turkana South	153,736	7,051.5	22
Turkana West	239,627	16,778.9	14
West Pokot	**621,241**	**9,123.2**	**68**
Kipkomo	102,633	765.6	134
Pokot Central	119,016	2,055.2	58
Pokot North	134,485	3,910.9	34
Pokot South	80,661	536.7	150
West Pokot	184,446	1,854.8	99
Samburu	**310,327**	**21,065.1**	**15**
Samburu Central	164,942	3,674.4	45
Samburu East	77,994	10,015.9	8
Samburu North	67,391	7,374.8	9
Trans Nzoia	**990,341**	**2,495.2**	**397**
Trans Nzoia West	202,377	355.4	569
Trans Nzoia East	229,538	629.1	365
Kwanza	203,821	465.3	438
Endebess	111,782	678.4	165
Kiminini	242,823	366.9	662
Uasin Gishu	**1,163,186**	**3,392.2**	**343**
Ainabkoi	138,184	492.9	280
Kapseret	198,499	299.3	663
Kesses	148,798	731.0	204
Moiben	181,338	769.8	236
Soy	229,094	667.6	343
Turbo	267,273	431.4	620

Table 2.7: Distribution of Population by Land Area and Population Density by Sub-County, Cont'd

National/ County	Population	Land Area (Sq. Km)	Population Density (No. per Sq. Km)
Elgeyo/Marakwet	**454,480**	**3,032.0**	**150**
Keiyo North	99,176	543.2	183
Keiyo South	120,750	897.8	134
Marakwet East	97,041	853.2	114
Marakwet West	137,513	737.9	186
Nandi	**885,711**	**2,855.8**	**310**
Chesumei	164,133	474.6	346
Nandi Central	147,553	362.9	407
Nandi East	119,173	397.6	300
Nandi North	166,171	606.3	274
Nandi South	172,750	457.4	378
Tinderet	115,931	557.1	208
Baringo	**666,763**	**10,976.4**	**61**
Baringo Central	96,951	786.5	123
Baringo North	104,871	1,629.3	64
East Pokot	79,923	2,500.5	32
Koibatek	129,535	938.6	138
Marigat	90,955	1,453.4	63
Mogotio	91,104	1,375.3	66
Tiaty East	73,424	2,106.5	35
Laikipia	**518,560**	9,532.2	54
Laikipia Central	95,594	1,232.6	78
Laikipia East	102,815	1,539.0	67
Laikipia North	36,184	2,575.0	14
Laikipia West	129,263	3,372.2	38
Nyahururu	154,704	813.4	190
Nakuru	**2,162,202**	**7,462.4**	**290**
Gilgil	185,209	1,075.4	172
Kuresoi North	175,074	618.1	283
Kuresoi South	155,324	548.2	283
Molo	156,732	483.2	324
Naivasha	355,383	1,958.4	181
Nakuru East	193,926	230.9	840
Nakuru North	218,050	387.3	563
Nakuru West	198,661	71.9	2,764
Njoro	238,773	699.5	341
Rongai	199,906	988.1	202
Subukia	85,164	401.5	212
Narok	**1,157,873**	**17,950.3**	**65**
Narok East	115,323	2,042.0	56
Narok North	251,862	2,159.4	117
Narok South	238,472	4,577.3	52
Narok West	195,287	5,563.0	35
Trans Mara East	111,183	309.8	359
Trans Mara West	245,714	2,545.9	97
Mau Forest*	32	752.9	0

*Demarcated as a special area to ensure complete coverage during census enumeration

Table 2.7: Distribution of Population by Land Area and Population Density by Sub-County, Cont'd

National/ County	Population	Land Area (Sq. Km)	Population Density (No. per Sq. Km)
Kajiado	**1,117,840**	**21,871.1**	**51**
Isinya	210,473	1,071.6	196
Kajiado Central	161,862	4,239.5	38
Kajiado North	306,596	110.6	2,773
Kajiado West	182,849	7,862.1	23
Loitokitok	191,846	6,336.7	30
Mashuuru	64,214	2,250.7	29
Kericho	**901,777**	**2,436.1**	**370**
Belgut	145,072	264.3	549
Bureti	199,470	320.6	622
Kericho East	170,625	240.6	709
Kipkelion	122,530	349.9	350
Londiani	137,580	399.5	344
Soin Sigowet	126,500	466.2	271
Mau Forest	0	201.2	0
Tinderet Forest*	0	193.7	0
Bomet	**875,689**	**2,530.9**	**346**
Bomet East	144,275	305.0	473
Chepalungu	164,837	460.5	358
Konoin	163,507	392.5	417
Sotik	227,855	544.3	419
Bomet Central	175,215	286.1	613
Mau Forest*	0	542.3	0
Kakamega	**1,867,579**	**3,020.0**	618
Butere	154,100	210.1	734
Kakamega Central	188,212	155.2	1,212
Kakamega East	167,641	417.2	402
Kakamega North	238,330	420.8	566
Kakamega South	111,743	146.2	764
Khwisero	113,476	145.6	780
Likuyani	152,055	316.1	481
Lugari	122,728	254.3	483
Matete	66,172	102.7	644
Matungu	166,940	279.1	598
Mumias East	116,851	150.2	778
Mumias West	115,354	163.3	**706**
Navakholo	153,977	259.3	594
Vihiga	**590,013**	**563.8**	1,047
Emuhaya	97,141	89.0	1,091
Vihiga	95,292	90.1	1,058
Sabatia	131,628	111.4	1,181
Luanda	106,694	84.3	1,265
Hamisi	159,241	157.2	1,013
Kakamega Forest*	17	31.7	1

*Demarcated as a special area to ensure complete coverage during census enumeration

Table 2.7: Distribution of Population by Land Area and Population Density by Sub-County, Cont'd

National/ County	Population	Land Area (Sq. Km)	Population Density (No. per Sq. Km)
Bungoma	**1,670,570**	**3,023.9**	**552**
Bumula	215,892	345.2	625
Bungoma Central	177,748	232.7	764
Bungoma East	114,548	163.3	702
Bungoma North	121,317	191.5	633
Bungoma South	287,765	321.2	896
Cheptais	136,035	222.9	610
Kimilili-Bungoma	162,038	179.6	902
Mt. Elgon	78,873	126.5	624
Bungoma West	119,875	211.0	568
Tongaren	100,343	185.3	542
Webuye West	152,515	238.9	638
Mt. Elgon Forest*	3,621	605.8	6
Busia	**893,681**	**1,696.3**	**527**
Bunyala	85,977	192.2	447
Busia	142,408	196.0	727
Butula	140,334	243.6	576
Nambale	111,636	238.1	469
Samia	107,176	262.4	408
Teso North	138,034	261.0	529
Teso South	168,116	302.9	555
Siaya	**993,183**	**2,529.8**	**393**
Siaya	224,343	598.9	375
Gem	179,792	405.3	444
Ugenya	134,354	323.5	415
Ugunja	104,241	201.0	519
Bondo	197,883	598.8	330
Rarieda	152,570	402.4	379
Kisumu	**1,155,574**	**2,085.4**	**554**
Kisumu East	220,997	141.6	1,560
Kisumu Central	174,145	36.8	4,737
Kisumu West	172,821	209.0	827
Seme	121,667	267.7	455
Muhoroni	154,116	657.5	234
Nyando	161,508	446.1	362
Nyakach	150,320	326.7	460
Homa Bay	**1,131,950**	**3,152.5**	**359**
Homa Bay	117,439	182.0	645
Ndhiwa	218,136	713.5	306
Rachuonyo North	178,686	435.4	410
Rachuonyo East	121,822	250.9	486
Rachuonyo South	130,814	256.1	511
Rangwe	117,732	274.1	429
Suba North	124,938	406.3	307
Suba South	122,383	634.1	193

*Demarcated as a special area to ensure complete coverage during census enumeration

Table 2.7: Distribution of Population by Land Area and Population Density by Sub-County, Cont'd

National/ County	Population	Land Area (Sq. Km)	Population Density (No. per Sq. Km)
Migori	**1,116,436**	**2,613.5**	427
Awendo	117,290	255.3	459
Kuria East	96,872	187.6	516
Kuria West	208,513	395.7	527
Nyatike	176,162	676.9	260
Rongo	124,587	213.4	584
Suna East	122,674	205.1	598
Suna West	128,890	287.5	448
Uriri	141,448	392.1	361
Kisii	**1,266,860**	**1,323.0**	**958**
Etago	83,787	108.4	773
Gucha	83,740	82.1	1,020
Gucha South	83,623	94.9	881
Kenyenya	131,740	141.7	930
Kisii Central	166,906	135.8	1,229
Kisii South	135,134	128.3	1,054
Kitutu Central	154,175	100.3	1,537
Marani	107,464	128.4	837
Masaba South	122,396	161.2	759
Nyamache	130,898	162.7	805
Sameta	66,997	79.1	847
Nyamira	**605,576**	**897.3**	**675**
Borabu	73,167	246.9	296
Manga	94,209	111.5	845
Masaba North	111,860	141.7	789
Nyamira North	167,267	215.7	775
Nyamira South	159,073	181.5	876
Nairobi City	**4,397,073**	**703.9**	**6,247**
Dagoretti	434,208	29.1	14,908
Embakasi	988,808	86.3	11,460
Kamukunji	268,276	10.5	25,455
Kasarani	780,656	86.2	9,058
Kibra	185,777	12.1	15,311
Lang'ata	197,489	216.8	911
Makadara	189,536	11.7	16,150
Mathare	206,564	3.0	68,941
Njiru	626,482	129.9	4,821
Starehe	210,423	20.6	10,205
Westlands	308,854	97.5	3,167

Kenya National Bureau of Statistics
Real Towers, Upper Hill
P.O. Box 30266,00100
Nairobi

Tel: +254-20-3317583/6/8

Email:directorgeneral@knbs.or.ke
info@knbs.or.ke

Website: https://knbs.or.ke

Follow us at:
FB: Kenya National Bureau of Statistics (KNBStats)
Twitter: @KNBStats

ISBN 978-9966-102-09-6